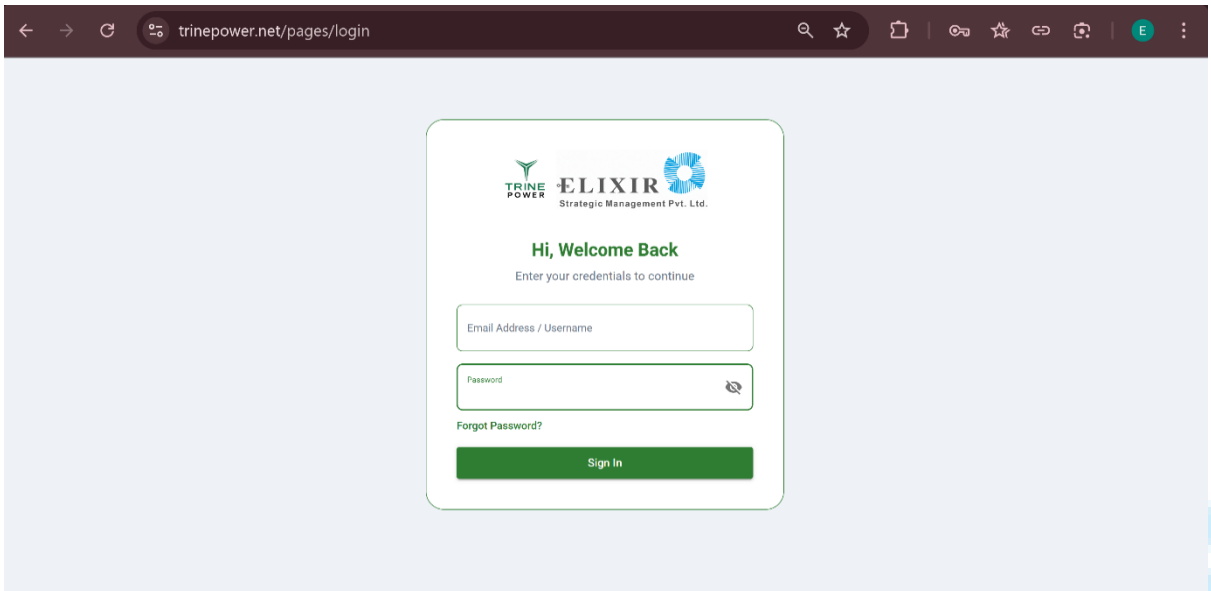

Image 1: Login Page

- User-friendly **login page** for **secure access** to the platform.
- Allows entry of **username/email** and **password**.
- Provides a **Forgot Password** option for account recovery.
- Designed for **easy access** to all system features.
- **Branded page** showcasing the **Trine Power** and **Elixir** logos.
- Simplifies user **authentication** and **platform entry**.

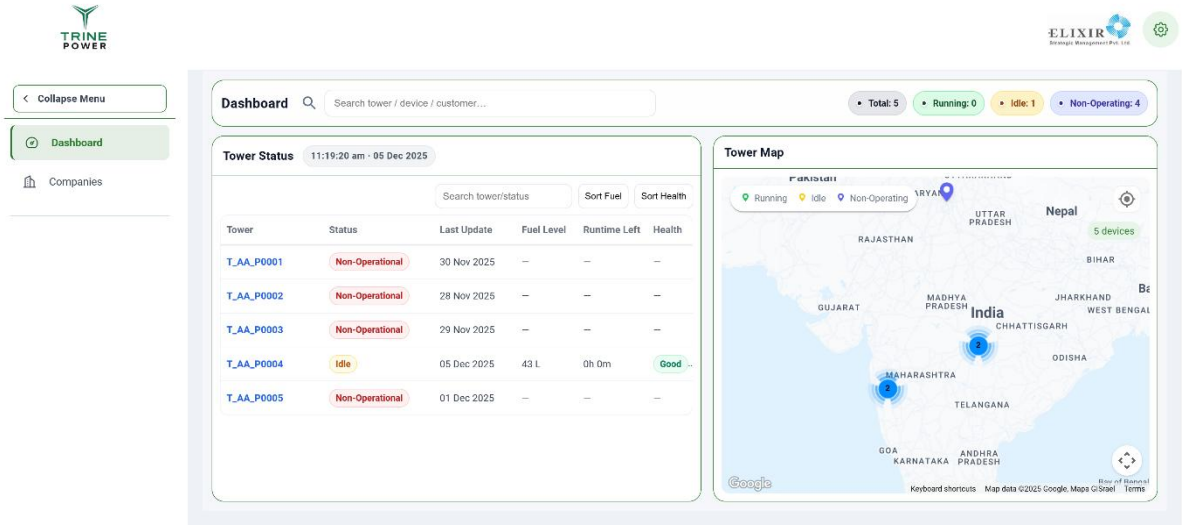

Image 2: Tower Status Dashboard Overview

- Provides **real-time monitoring** of mobile light towers.
- Displays **fuel levels**, **runtime left**, and **health status** of each tower.
- Includes a **map view** for tracking tower locations.
- Status indicators for each tower (**Running**, **Idle**, **Non-Operating**).
- Easy-to-read layout for quick decision-making and monitoring.
- Helps operators efficiently manage multiple dispersed assets.

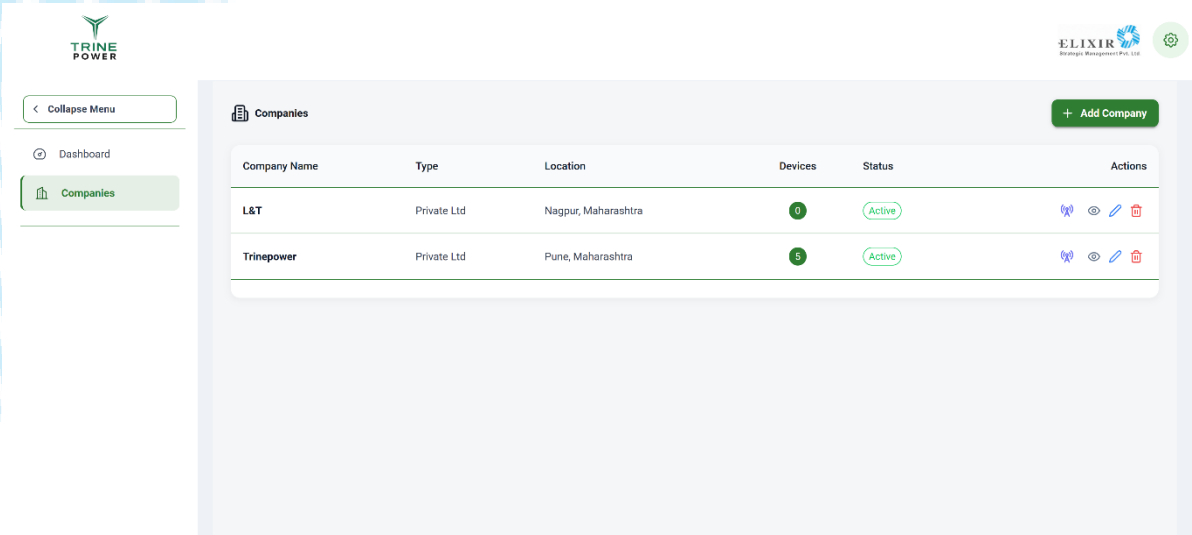

Image 3: Companies Management Page

- Displays a list of **companies** registered within the system.
- **Company details** include **name**, **type**, **location**, and **status**.
- **Active** companies are highlighted with a green status indicator.
- Shows the **number of devices** associated with each company.
- Provides **quick actions** for viewing, editing, or deleting company records.
- Allows **adding new companies** to the system via the **Add Company** button.

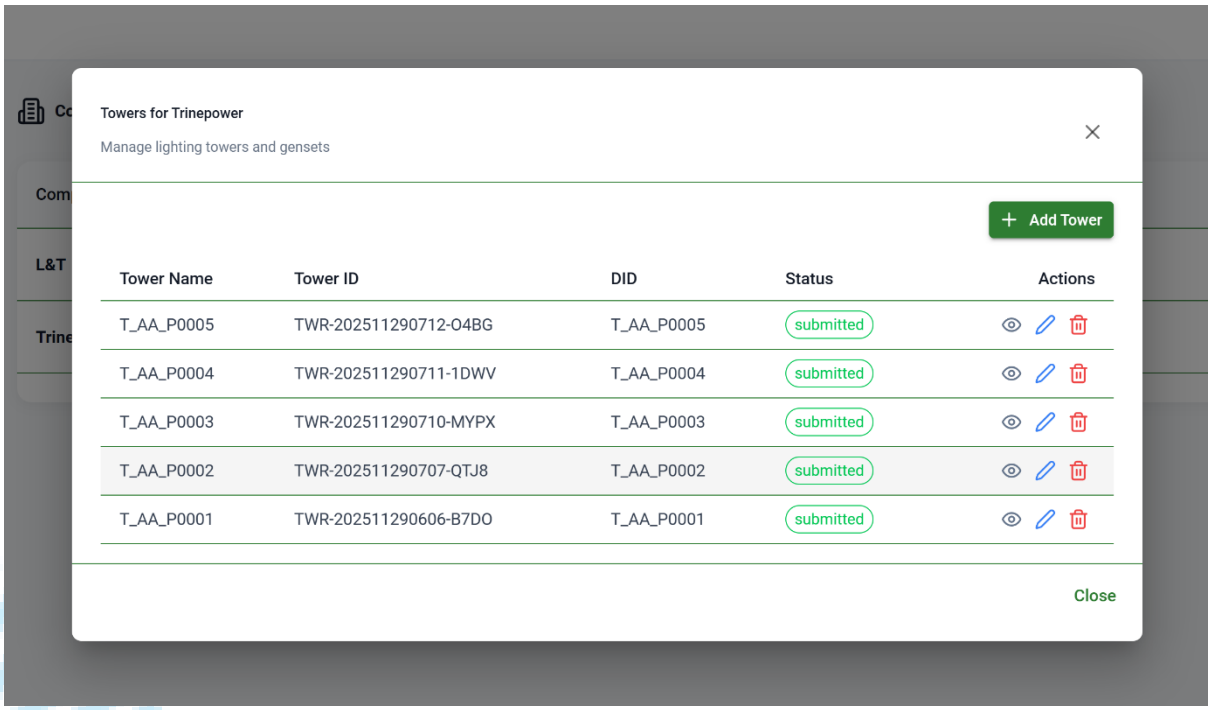

Image 4: Towers Management for Trinepower

- **List of lighting towers** associated with the company "Trinepower".
- **Tower information** displayed includes **Tower Name**, **Tower ID**, **DID** (Device ID), and **status**.
- **Status** of each tower is marked as **submitted**, indicating the status of tower submissions.
- **Actions** include options for **viewing**, **editing**, and **deleting** towers.
- The **"Add Tower"** button allows for adding new towers to the system.
- **Close button** to exit the tower management interface.

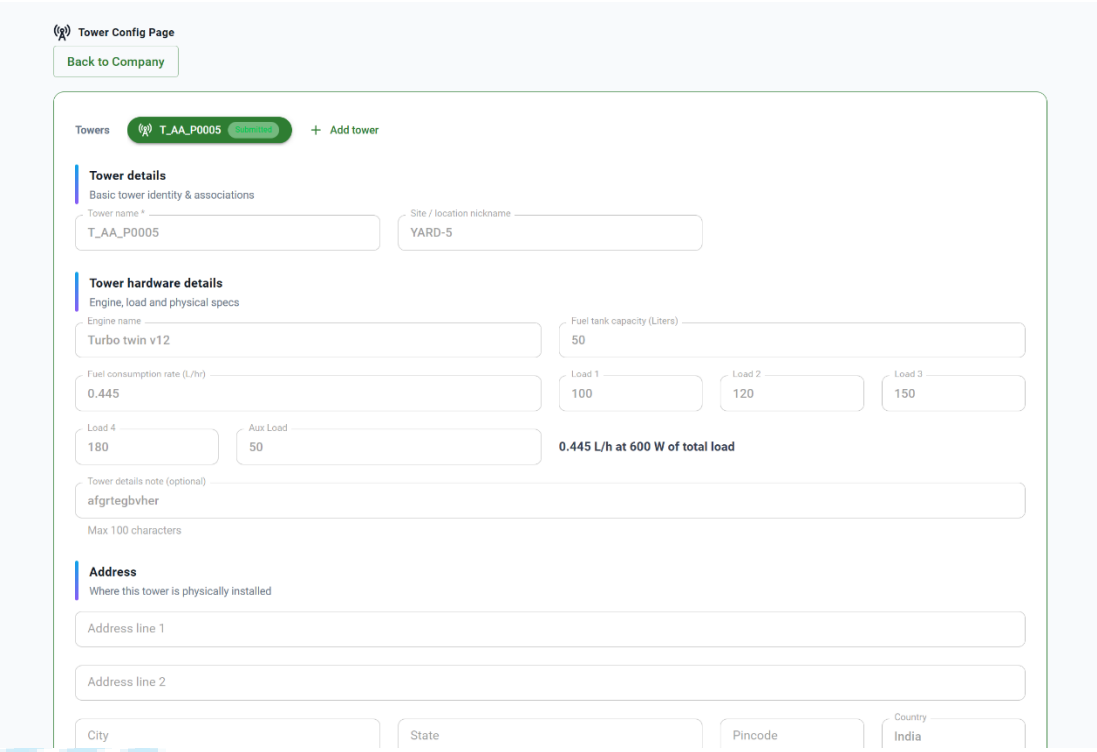

Image 5: Tower Configuration Page

- **Tower details** section allows entry of basic information like **Tower Name** and **Site/Location nickname** (e.g., Yard-5).
- **Engine details** such as the **Engine name** (Turbo twin v12) and **Fuel consumption rate** (0.445 L/h).
- **Load settings** for different tower loads (**Load 1, 2, and 3**), as well as **Auxiliary load**.
- Displays the **fuel tank capacity** and **consumption at various load levels** (e.g., "0.445 L/h at 600 W of total load").
- **Address section** captures the physical location of the tower with fields like **Address Line 1, City, State, Pincode**, and **Country**.
- Optional **tower details notes** field available for additional information.

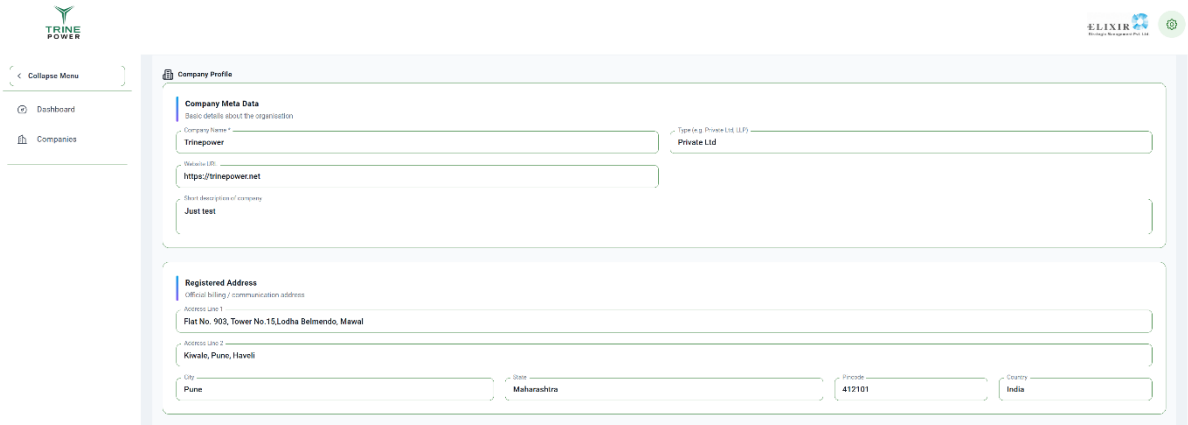

Image 6: Company Profile

- **Company Meta Data** includes the **company name**, **website URL**, and a **short description** of the company.
- **Type** of company (e.g., Private Ltd, LLP) is specified along with **basic details**.
- **Registered Address** section captures the official address, including **address line 1**, **address line 2**, **city**, **state**, **country**, and **pincode**.
- Information is provided for **location** such as **company address** and where the company is physically located (e.g., Pune, Maharashtra).
- The section allows the **management of company details** for record-keeping and easier retrieval of business information.

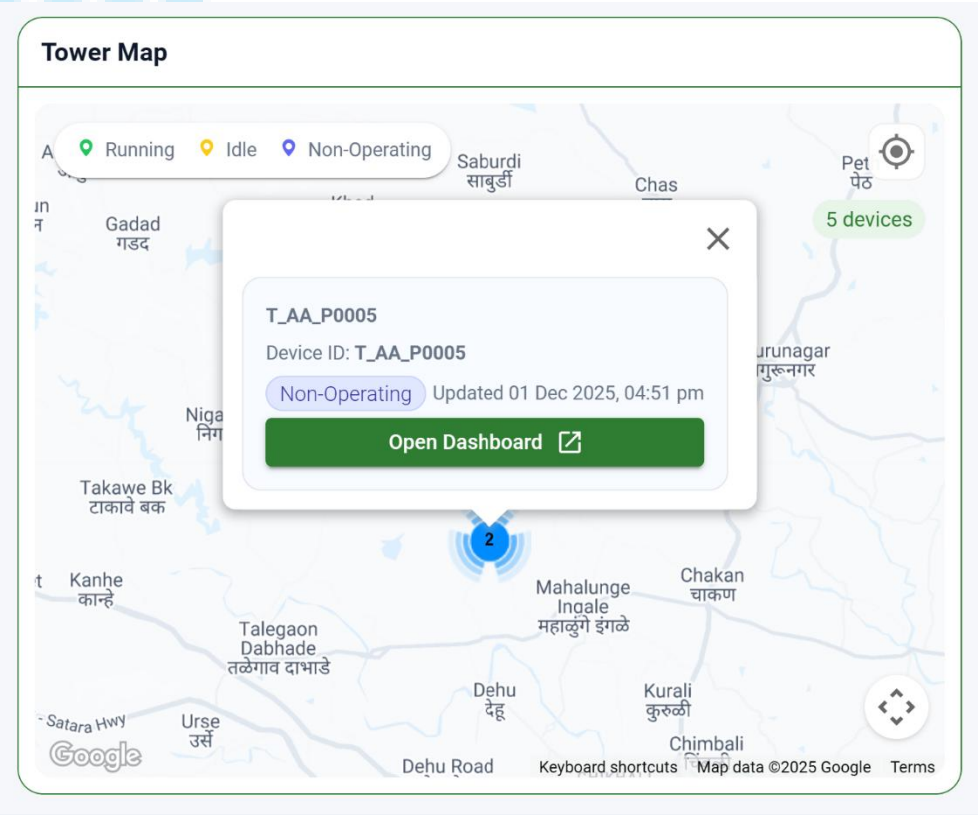

Image 7: Tower Map with Device Information

- **Tower Map** showing the geographical locations of various devices.
- **Device status**: Displays whether the tower is **Running**, **Idle**, or **Non-Operating**.
- **Device Details**: Clicking on a device marker provides information such as **Device ID**, **Tower Name**, and **last update time**.
- The **status** of the device is shown (e.g., **Non-Operating** for the device in the image).
- **Open Dashboard button**: Users can access detailed information about the selected device by clicking the button to **open the dashboard**.
- **Device Locations**: The map allows users to see the exact geographical location of each device.

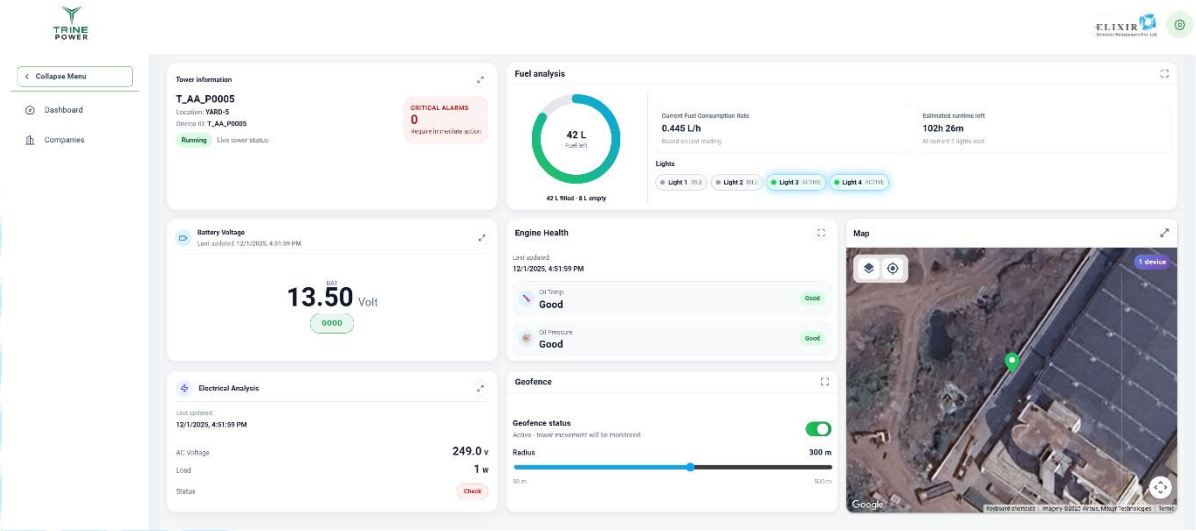

Image 8: Tower Dashboard with Device Metrics and Map

- **Tower Status**: Displays **live tower status** for the selected device (e.g., **Running**).
- **Battery Voltage**: Shows the **battery voltage** and its health status (**Good** in the image).
- **Fuel Analysis**: Provides a visual gauge showing **remaining fuel** (e.g., **42 L**), along with **fuel consumption rate** and **estimated runtime left**.
- **Engine Health**: Displays metrics such as **oil temperature** and **oil pressure**, both marked as **Good**.
- **Geofence**: Indicates the **geofence status** and radius for monitoring the movement of the tower.
- **Interactive Map**: The map provides the **current location** of the tower and **geographical context** of the device's status and operation.

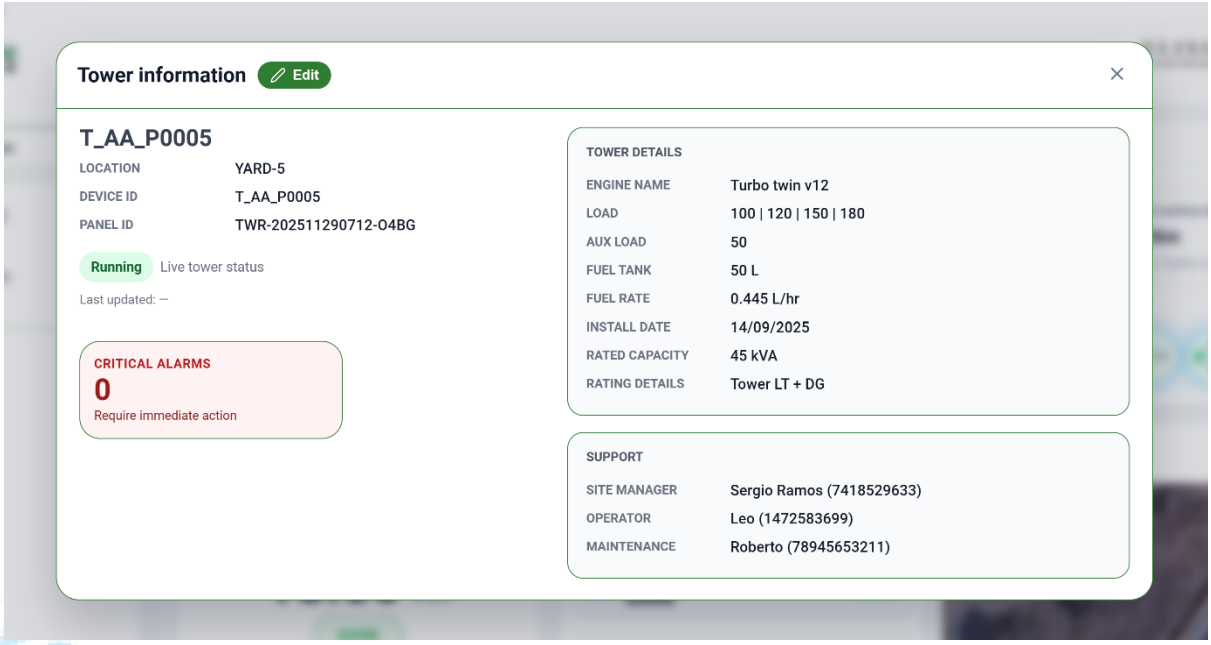

Image 9: Tower Information Page

- **Device Status**: Displays the current **live status** of the tower (e.g., **Running**).
- **Critical Alarms**: Shows the count of **critical alarms** and indicates whether any immediate action is required (e.g., **0 alarms**).
- **Engine and Load Details**: Includes **engine name**, **load**, **auxiliary load**, **fuel rate**, and other specifications related to tower operation.
- **Installation & Capacity**: Provides details like **installation date**, **fuel tank capacity**, and **rated capacity** of the tower.
- **Support Information**: Displays key contact details, including the **site manager**, **operator**, and **maintenance** contact numbers.

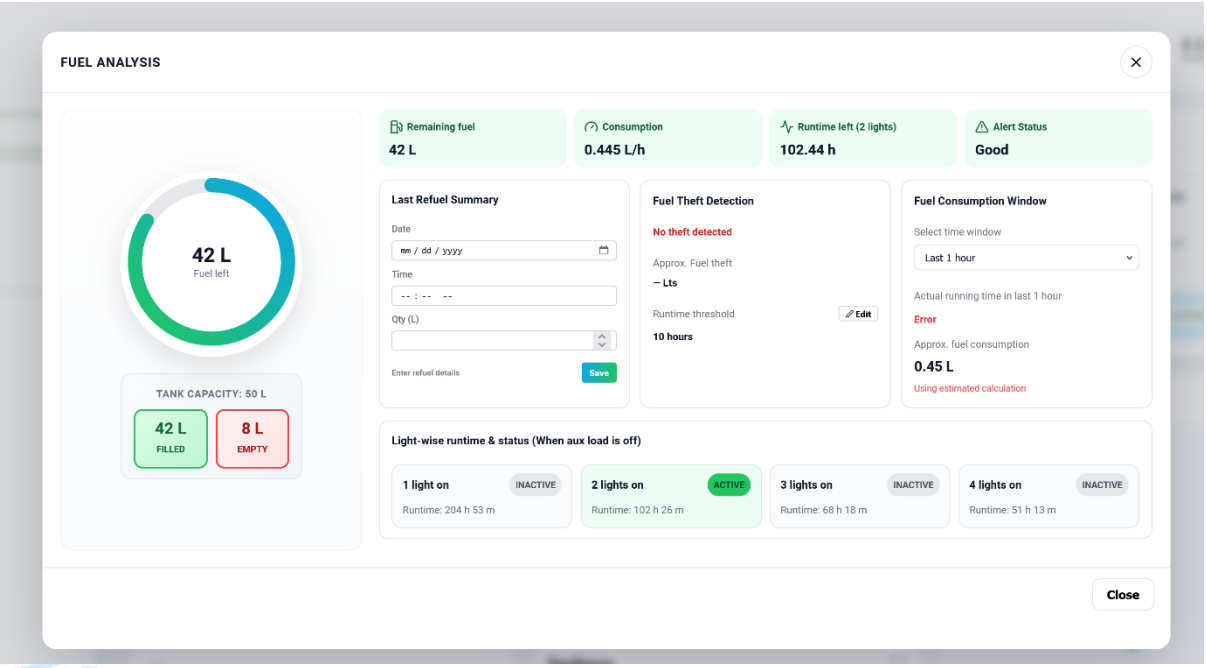

Image 10: Fuel Analysis

- This image represents the Fuel Analysis section for a mobile light tower system.
- It displays 42 L of fuel left, along with the tank capacity of 50 L. The fuel tank status is shown with color-coded filled and empty indicators.
- Fuel consumption is shown as 0.445 L/h, with an estimate of 102.44 hours runtime left for 2 lights.
- Fuel theft detection indicates "No theft detected," and users can enter the refuel details such as date, time, and quantity.
- Light-wise runtime is displayed for different scenarios (1 light on, 2 lights on, etc.), with runtime details under each light status.
- A Fuel Consumption Window feature allows users to select time intervals to view the approximate fuel consumption. It shows an error for the actual running time in the last 1 hour, using estimated calculation.
- The alert status is marked as Good, indicating normal system health.

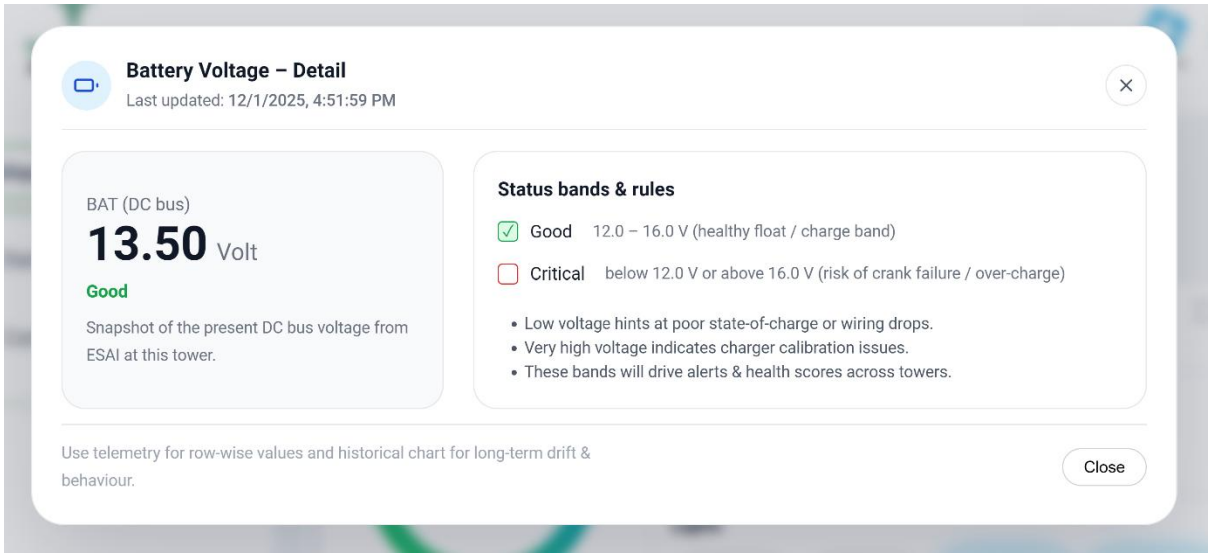

Image 11: Battery Voltage - Detail

- **Battery Voltage**: The current DC bus voltage is shown (e.g., **13.50 V**), with a **Good** status indicating a healthy state for the battery.
- **Status Bands & Rules**:
  - **Good (12.0 – 16.0 V)**: This voltage range signifies a healthy charge band for the battery.
  - **Critical (<12.0 V or >16.0 V)**: A voltage outside this range is critical, signaling potential issues like crank failure or overcharging.
- **Low Voltage**: Indicates possible poor state-of-charge or wiring issues.
- **High Voltage**: Indicates potential charger calibration problems.
- **Telemetry Use**: The data can be tracked with telemetry for row-wise values and historical chart tracking to monitor long-term performance trends.

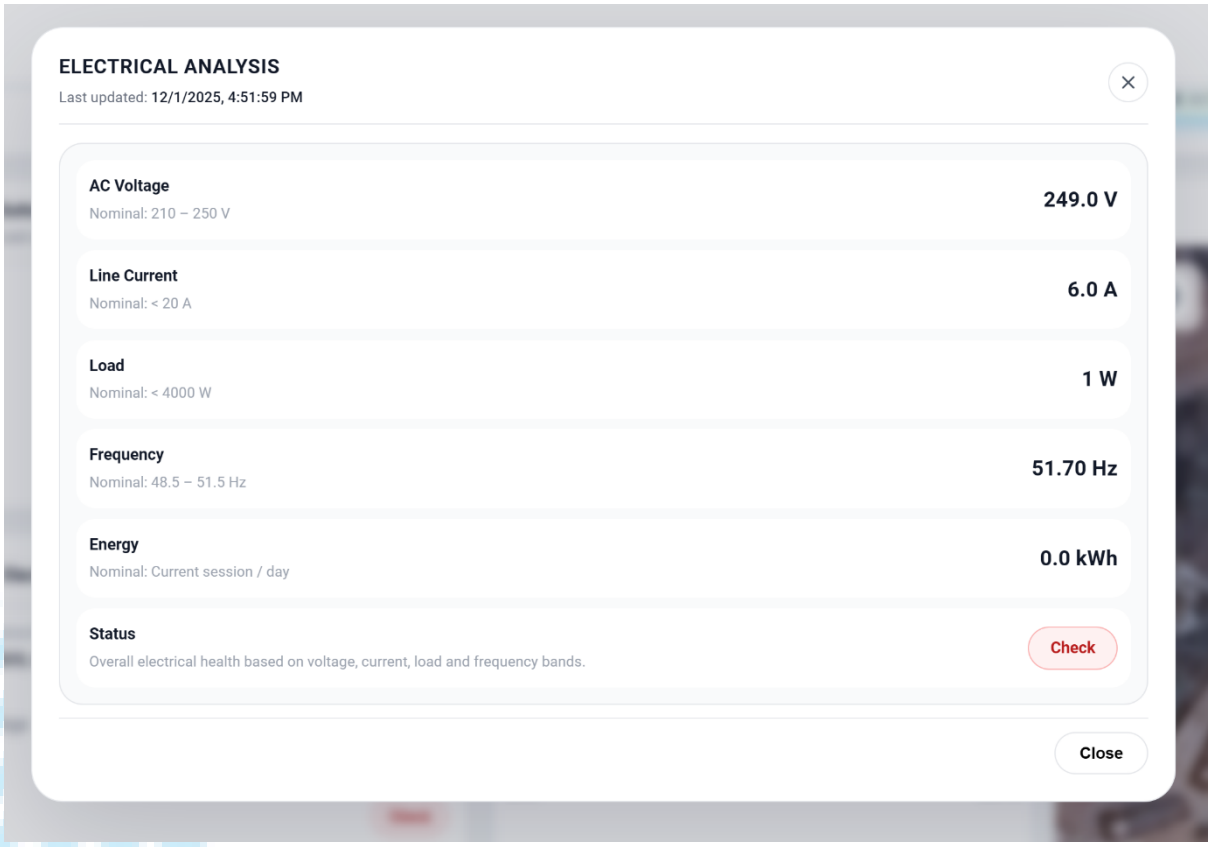

Image 12: Electrical Analysis

- **AC Voltage**: The current AC voltage is **249.0 V**, within the nominal range of **210 – 250 V**.
- **Line Current**: The current line current is **6.0 A**, which is under the nominal limit of **<20 A**.
- **Load**: The load is at **1 W**, far below the nominal limit of **< 4000 W**.
- **Frequency**: The frequency is **51.70 Hz**, within the nominal range of **48.5 – 51.5 Hz**.
- **Energy**: The energy usage is currently **0.0 kWh**.
- **Status**: The overall electrical health is assessed based on voltage, current, load, and frequency bands, with no immediate issues indicated.

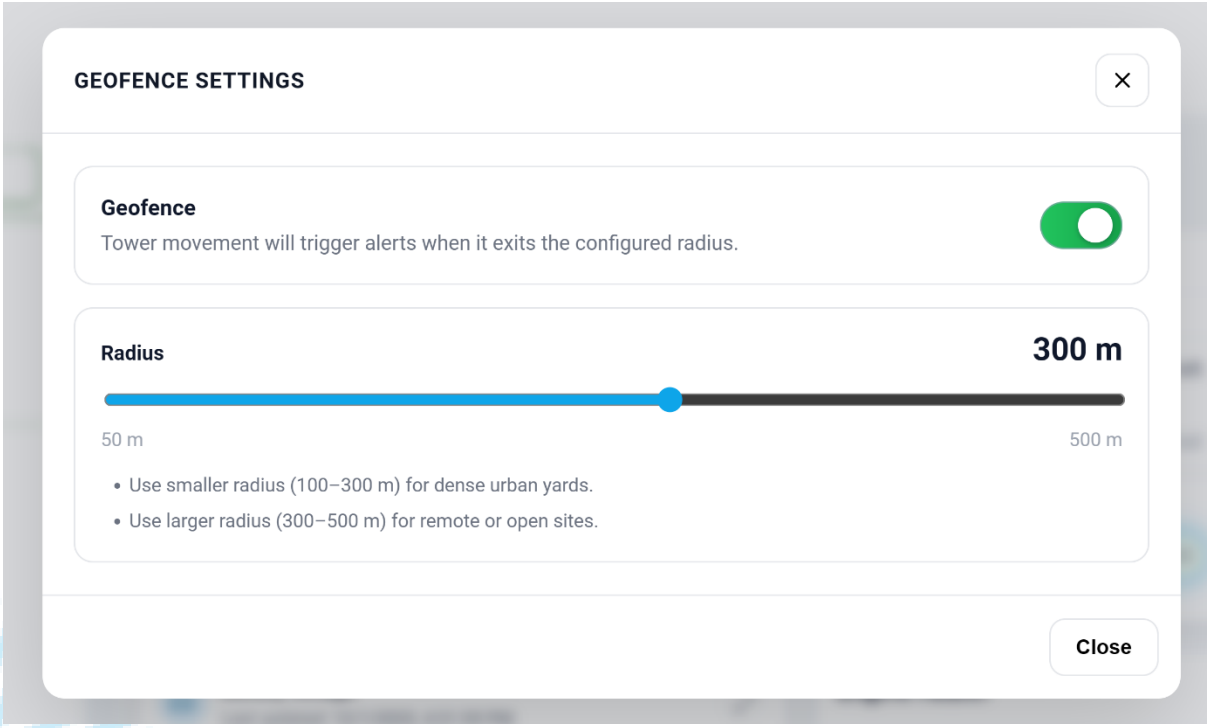

Image 13: Geofence Settings

- **Geofence Activation**: The tower's movement will trigger alerts when it exits the configured radius, ensuring security and monitoring.
- **Radius Setting**: The current radius is set to **300 meters**.
- **Customizable Range**: Users can adjust the radius according to their needs:
  - **Smaller radius (100-300 m)**: Suitable for dense urban yards.
  - **Larger radius (300-500 m)**: Ideal for remote or open sites.
- **Alert Function**: If the tower moves out of the defined boundary, alerts will be triggered.

Image 14: Map View of Tower Location

- The image showcases the **geographical location** of the device on the **map**.
- The **green pin** marks the exact position of the lighting tower in a specific **industrial area**.
- The map provides a **satellite view**, giving a clear understanding of the **site's infrastructure**.
- **1 device** is visible on the map, indicating the active tower's location.
- **Zoom functionality** is available for detailed view of the surrounding area, allowing for precise tracking of the tower's movement.

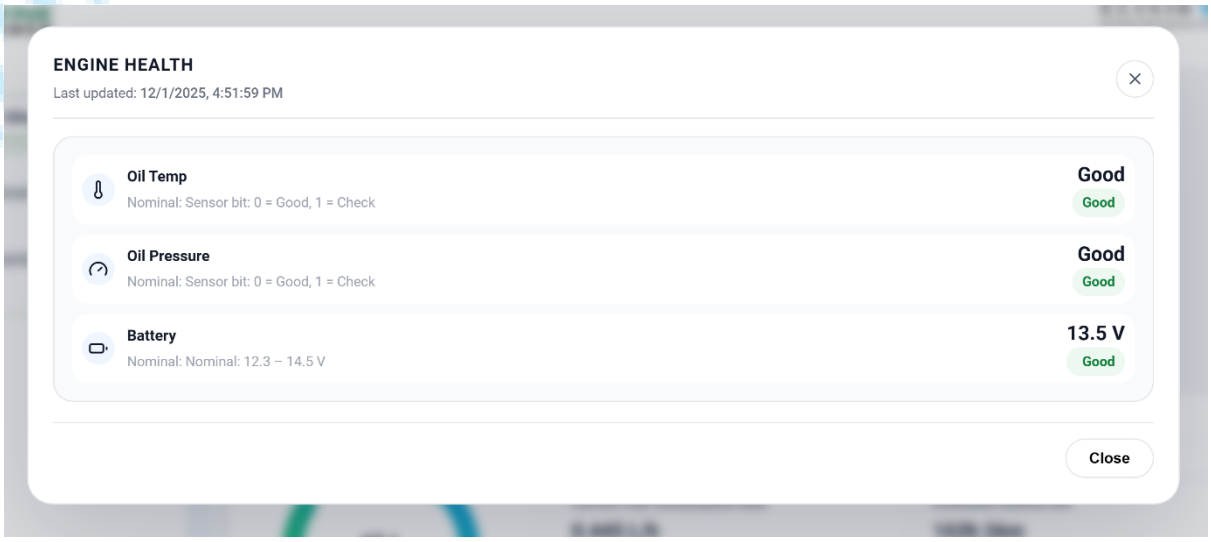

Image 15: Engine Health Status

- The image displays the **Engine Health** status of the tower's critical components.
- **Oil Temperature** and **Oil Pressure** are both marked as **Good**, indicating optimal functioning.
- **Battery voltage** is at **13.5V**, categorized as **Good**, which is within the normal operating range of **12.3V to 14.5V**.
- **Nominal status** for each parameter is displayed, along with an indication that **0 = Good** and **1 = Check** for health.
- The **last update time** of these parameters is shown to be **12/1/2025, 4:51:59 PM**, ensuring real-time tracking of engine health.

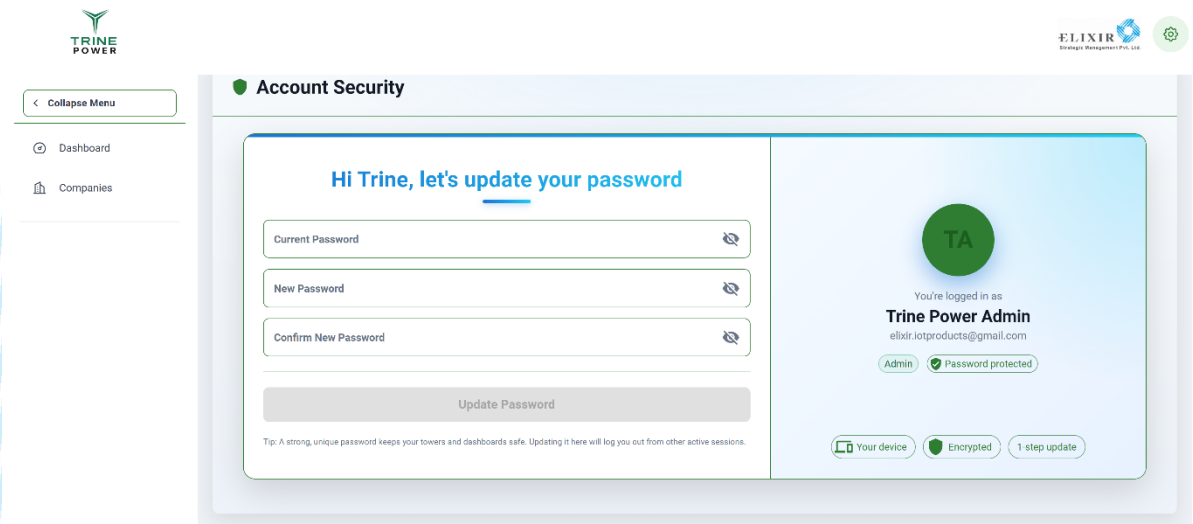

Image 16: Account Security Update

- This image represents the **Account Security** page for updating user passwords.
- It shows fields for entering the **current password**, **new password**, and **confirm new password**.
- The page is titled "**Hi Trine, let's update your password**" to indicate the process of password change.
- It displays the logged-in user's information.
- The page also shows a **"Update Password"** button to confirm the new password update.
- Security tips are displayed at the bottom of the page, recommending the use of a strong, unique password to keep the system secure.